Practical No – 6

Working with Projections and WMS Data

❖ **Working with Projections and WMS Data**

A **Web Map Service (WMS)** is a standard protocol developed by the open geospatial consortium in 1990 for serving georeferenced map images over the internet. These images are typically produced by a map server from data provided by a GIS database.

- Start a new Project.
- Layer→Add Layer→Vector Layer.
- Select "ne_10m_admin_0_countries.zip" Layer from data folder.

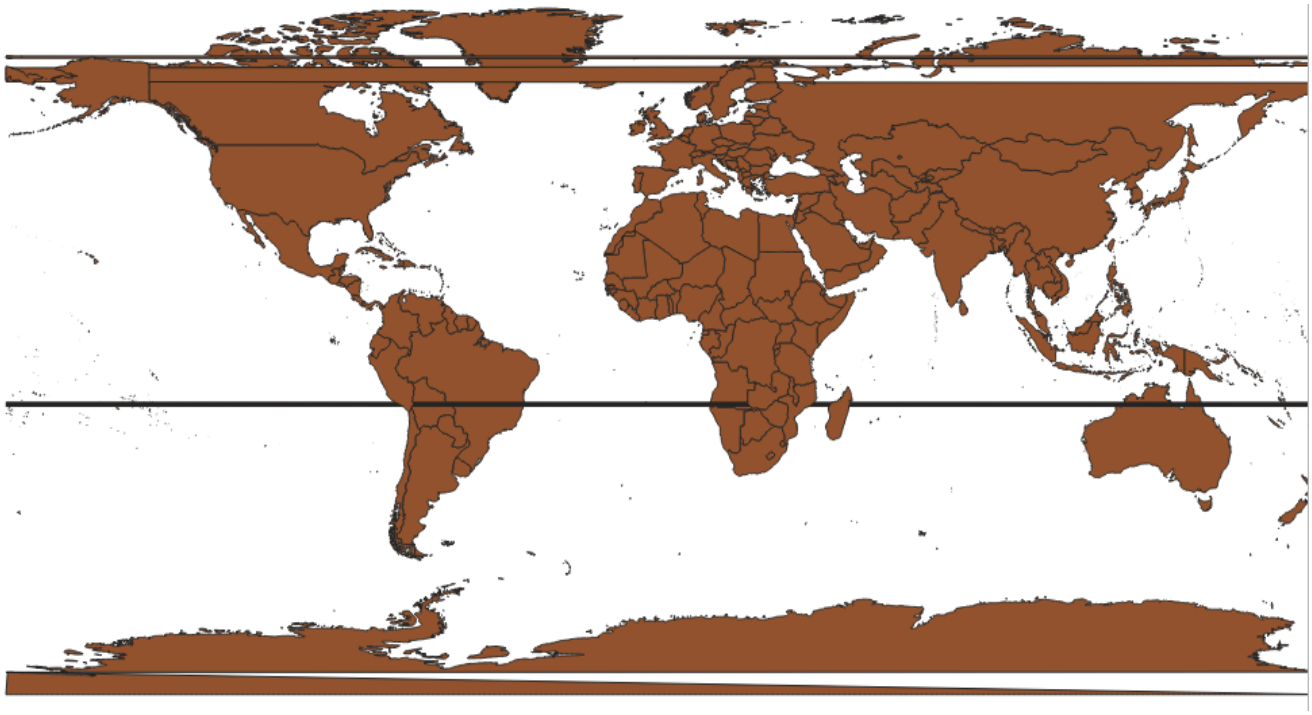

- Go to Layer→ Save As
- Select format as ESRI Shape File
- Select folder location and file name
- Set CRS **North|_America_Albers_Equal_Area_Conic EPSG:102008**

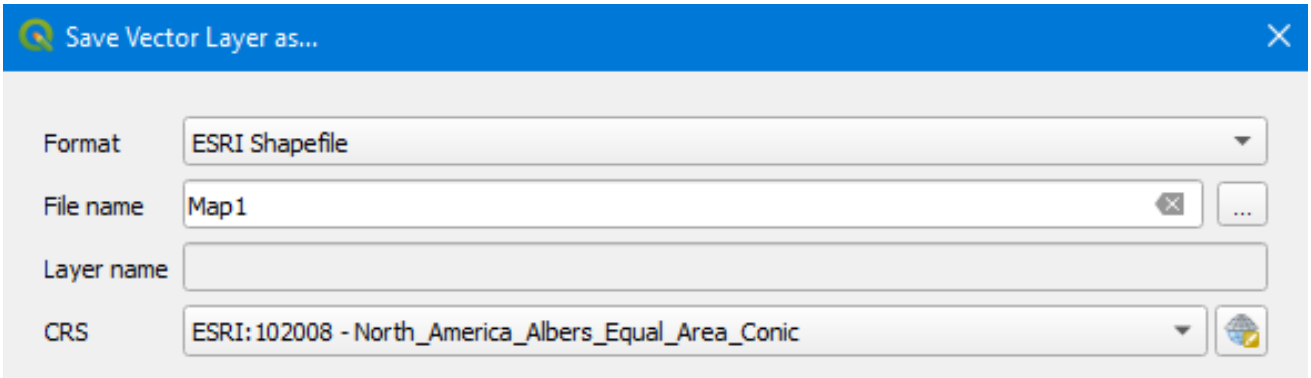

- Press "OK".
- Deselect the original Image and keep the projected layer visible.

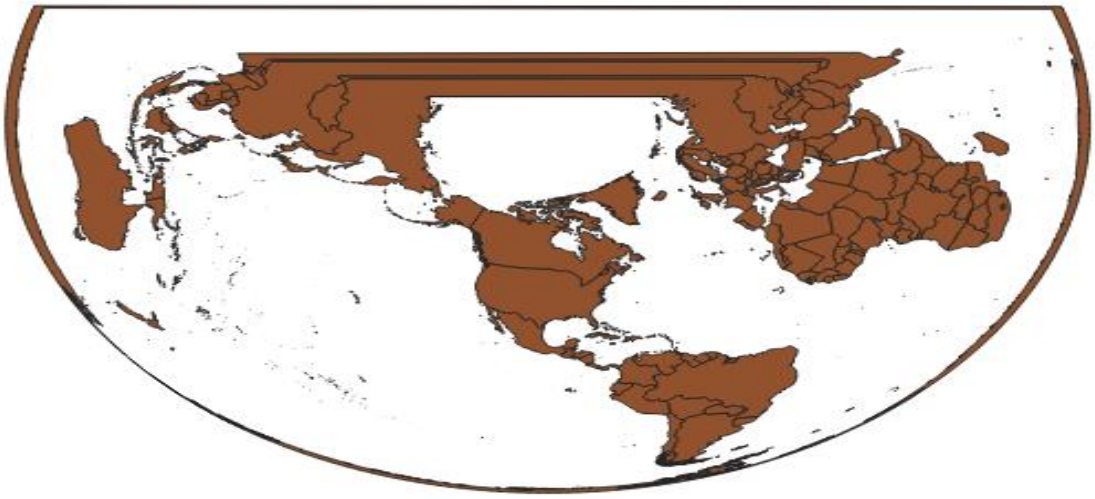

- Select Layer→ Add Layer→ Add Raster Layer→Select MiniScale_(standard)_R17.tif from Location.
- "GIS_Workshop\Practicals\Practical_05\DATA\minisc_gb\minisc_gb\data\RGB_TIF_compressed\MiniScale_(standard)_R17.tif"

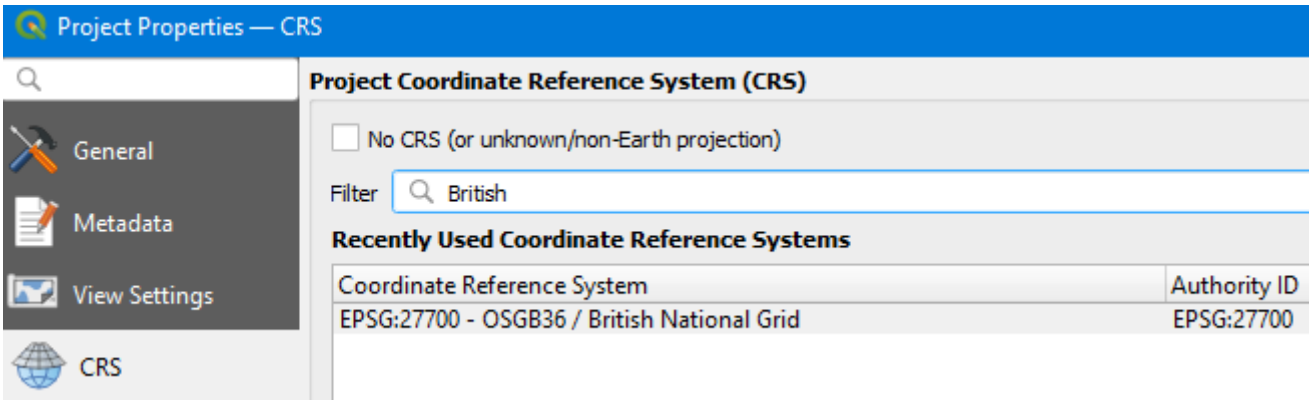
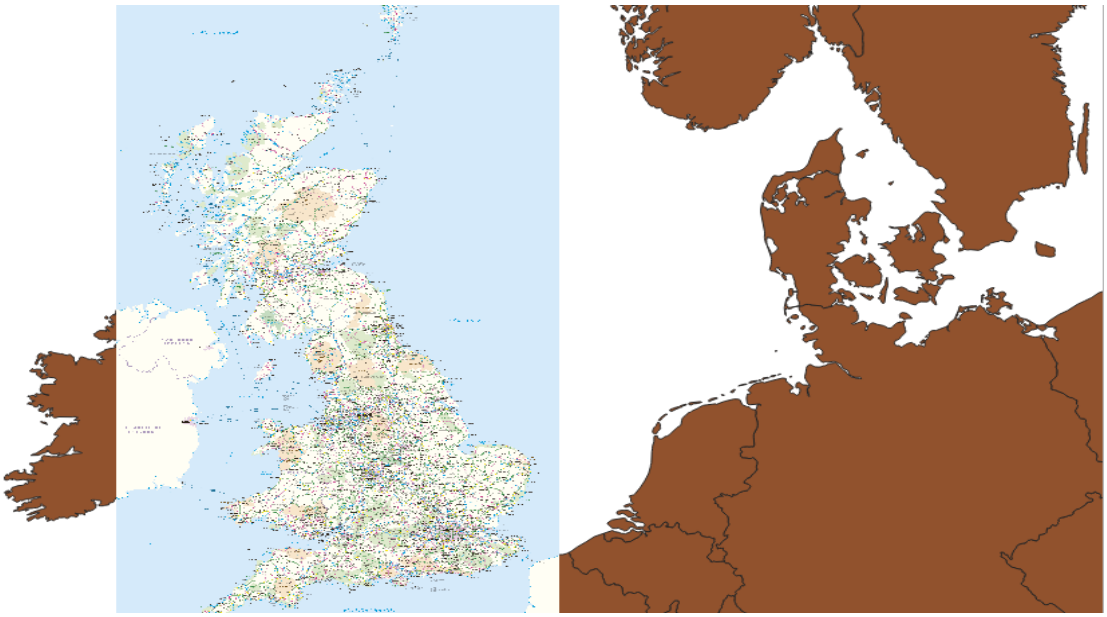
- Open Layer Properties→CRS→Search and Select British National Grid EPSG 27700.
- Locate United Kingdom on Layer, the vector layer exactly coincides by the raster layer covering United Kingdom.